OFFICIAL MAP
VOTER PRECINCT BOUNDARIES

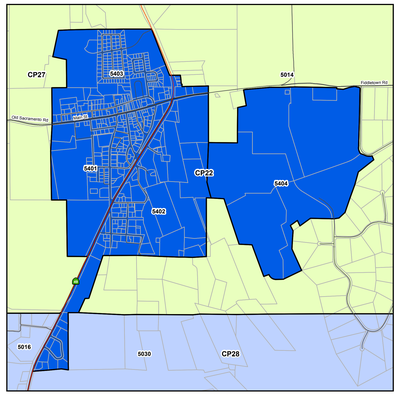

Plymouth Area Detail (1 Inch = 1,000 Ft)

Drytown Area Detail (1 Inch = 1,000 Ft)

Fiddletown Area Detail (1 Inch = 800 Ft)

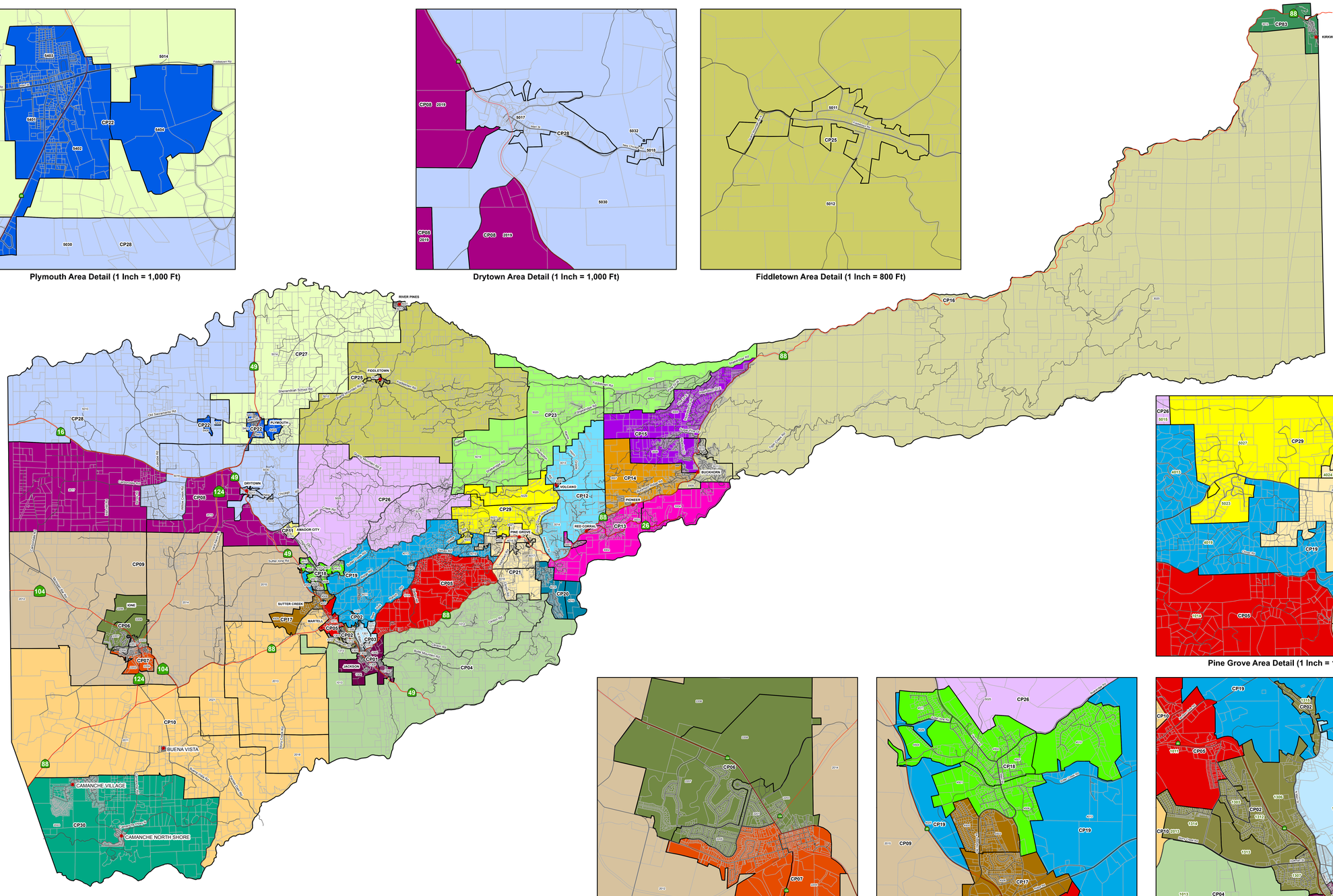

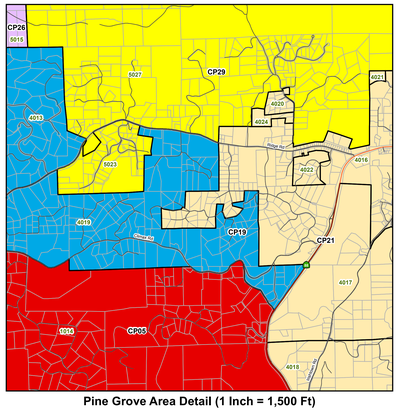

Pine Grove Area Detail (1 Inch = 1,500 Ft)

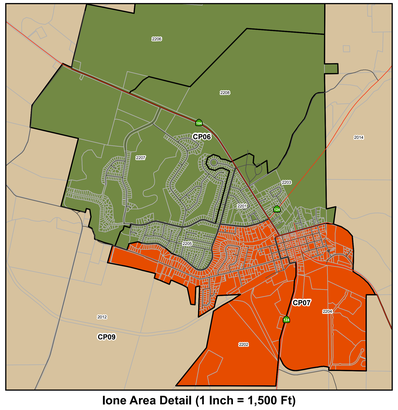

Ione Area Detail (1 Inch = 1,500 Ft)

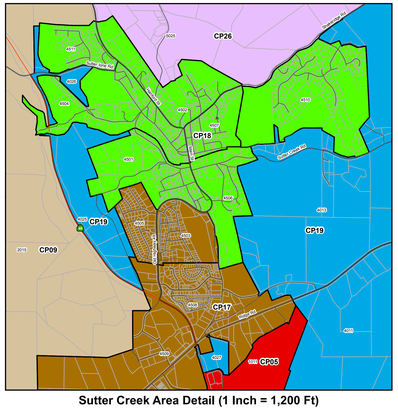

Sutter Creek Area Detail (1 Inch = 1,200 Ft)

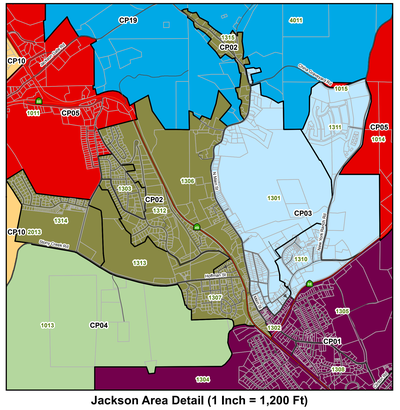

Jackson Area Detail (1 Inch = 1,200 Ft)

N
W E
S

1 inch = 6,000 feet

AMADOR COUNTY CALIFORNIA

The County of Amador assumes no responsibility arising from use of this information. THE MAPS AND ASSOCIATED DATA ARE PROVIDED WITHOUT WARRANTY OF ANY KIND, expressed or implied, including but not limited to, the implied warranties of merchantability and fitness for a particular purpose. Do not make any business decisions based on this data before validating your decision with the appropriate County Office.

Amador County GIS Division

Amador County Information Technology Dept.
810 Court St, Jackson CA 95642

April 3, 2012